## List of Figures and Tables

## LIST OF FIGURES


- **Figure 1: Distribution of Total Population across Districts (Histogram) ..... 15**
- **Figure 2: Distribution of Literacy Rates across Districts (Histogram) ..... 16**
- **Figure 3: Top 5 and Bottom 5 States by Literacy Rate ..... 17**
- **Figure 4: Top 5 and Bottom 5 States by Sex Ratio .....18**
- **Figure 5: Regional Distribution of Literacy Rates (Box Plot) ..... 19**
- **Figure 6: Gender Gap Analysis: Male vs. Female Literacy (Scatter Plot) .....20**
- **Figure 7: Top 10 States by Scheduled Caste (SC) Population Share .....21**
- **Figure 8: States with Highest Proportion of Marginal Workers .....23**
- **Figure 9: Workforce Sector Distribution: Rural vs. Urban (Stacked Bar Chart) .....25**
- **Figure 10: Distribution of Sex Ratio: Rural vs. Urban (Box Plot) .....26**
- **Figure 11: Correlation Analysis: Urbanization Rate vs. Literacy Rate .....28**
- **Figure 12: States with Highest Economic Dependency Ratio .....29**


## LIST OF TABLES


- **Table 1: Overview of Dataset Columns and Data Types ..... 8**
- **Table 2: Hierarchy Levels in Census Data (India, State, District, Sub-District) .....10**
- **Table 3: Top 10 High-Performing Districts by Literacy Rate .....31**
- **Table 4: Bottom 10 Critical Districts by Sex Ratio ..... 32**
- **Table 5: Summary of State-Level Outliers and Key Metrics .....33**

# Executive Summary

## Project Overview

This project performs a comprehensive Exploratory Data Analysis (EDA) on the Census 2011 dataset to uncover deep socio-economic patterns across India. Unlike standard summary reports, this analysis leverages granular data at the District and Sub-District levels to diagnose regional disparities in literacy, gender equality, and workforce stability. By processing over 19,000 data points, we moved beyond raw population counts to derive actionable indicators of development.

**Key Findings**

**The analysis yielded four critical insights into the demographic and economic structure of the nation:**

- **The "India vs. Bharat" Gender Divide:**
  Contrary to the assumption that modernisation equals equality, Urban areas display a significantly worse Sex Ratio (Median < 950 females per 1000 males) compared to Rural areas. This confirms the "male-migration" phenomenon, where men migrate to cities for work while families remain in villages, skewing urban demographics.
- **Literacy as a Function of Urbanisation:**
  A strong positive correlation (2 > 0.6) was established between Urbanisation Rate and Literacy Rate. This confirms that urban infrastructure acts as a primary catalyst for educational outcomes. However, exceptions were noted in the North-East, where literacy remains high despite low urbanisation, suggesting successful social interventions**.**
- **Workforce Vulnerability:**
  States like Jharkhand and Himachal Pradesh exhibit the highest rates of "Marginal Workers." This indicates a heavy reliance on seasonal and irregular employment rather than stable "Main" work, pointing to economic vulnerability despite having a working population**.**
- **Critical Outliers:**
  While states like Kerala consistently top development metrics, specific districts reveal urgent intervention needs. Ali Rajpur was identified as having the lowest literacy (28.8%), and Daman the lowest sex ratio (533 females/1000 males), marking them as priority zones for policy focus

# Chapter 1: Introduction

### 1.1 The Crucial Role of Census Data in Nation Building

The Decennial Census of India is not merely a headcount; it is the single largest source of statistical information on the characteristics of the people of India. Conducted under the Census Act of 1948, the 2011 Census provides a comprehensive snapshot of the nation's demographic, social, and economic status. For data scientists, policymakers, and economists, this dataset serves as the backbone for evidence-based decision-making.

In a country as vast and diverse as India, resources are finite, but needs are infinite. Whether it is allocating funds for the *Sarva Shiksha Abhiyan* (Education for All) or identifying districts eligible for the *Backward Regions Grant Fund*, the Census provides the granular data required to target interventions effectively. It captures the pulse of the nation—revealing shifts in urbanization, the progress of literacy campaigns, and the changing dynamics of the workforce.

However, the raw data itself is often overwhelming. With millions of data points, the challenge lies not in access, but in analysis. This report aims to bridge that gap by applying modern Exploratory Data Analysis (EDA) techniques to transform raw Census figures into actionable socio-economic intelligence

### 1.2 The Case for Granularity: Why District-Level Planning Matters

Historically, much of India's development analysis has been restricted to the **State Level**. We often hear statements like "Kerala is literate" or "Bihar is developing." While these generalizations are useful for broad comparisons, they are often dangerous simplifications that hide the true story.

**Why "State-Level" is Insufficient:**

- **Internal Disparity:** A state like Maharashtra appears highly developed due to the economic powerhouse of Mumbai and Pune. However, this average masks the reality of districts like Gadchiroli or Nandurbar, which may face significant developmental challenges. State averages "smooth out" these inequalities, making the poor invisible.
- **Surgical Policy Intervention:** Diseases, illiteracy, and unemployment do not respect state borders, but they often cluster in specific districts. For instance, low sex ratios may be prevalent in a cluster of districts spanning across Haryana and Western Uttar Pradesh. A state-level view breaks this cluster; a district-level view reveals it.
- **The "Law of Averages" Trap:** When we average a billionaire and a pauper, we get twomillionaires. Similarly, looking only at state averages suggests a uniformity that does not exist.

Therefore, this report adopts a **District-Centric Approach**. By drilling down to the district and sub-district levels, we move from "Broad Strokes" to "Precision Mapping," allowing us to identify the specific pockets of the country that are driving change or lagging behind.

**Problem Statement**

### 2.1 The Fallacy of Averages: "India is Too Big to Average"

India is often described as a continent masquerading as a country. With a population of 1.21 billion (in 2011), representing nearly 17% of humanity, aggregating Indian data into a single national average—or even state averages—renders the data almost meaningless.

For example, the National Literacy Rate might sit at roughly 74%. However, this single number collapses the distinction between a female agricultural laborer in rural Rajasthan and a male software engineer in Bengaluru. The problem we face in analyzing Indian demographics is that extreme outliers represent millions of people.

In this analysis, the primary problem we seek to address is the opacity of aggregated data. We aim to deconstruct these averages to answer critical questions:

- Does high economic activity guarantees social progress (literacy/gender equality)?
- Are urban centers genuinely more inclusive for women, or does migration skew the data?
- Which specific districts act as "drags" on their state's overall performance?

### 2.2 The "Double-Counting" Data Trap

From a technical perspective, the Census 2011 dataset presents a unique challenge for data analysis: Hierarchical Duplication.

Most standard datasets are "flat"—one row represents one unique entity (e.g., one customer, one transaction). The Census dataset, however, is hierarchical. It contains data at multiple levels of aggregation within the same file.

**The Hierarchy Structure:**

1. Level 1 (India): The sum of all states.
2. Level 2 (State): The sum of all districts in that state.
3. Level 3 (District): The sum of all sub-districts.
4. Level 4 (Sub-District): The granular administrative units.

**The Trap:**

If a data analyst were to blindly run a summation command (e.g., df['Total_Population'].sum()) on the raw file, the result would be catastrophic. They would sum the sub-districts, then add the district totals (which are already sums of sub-districts), then add the state totals, and finally the national total.

Result of Error: Calculated Population approx. 4 *Actual Population

To solve this, a robust data cleaning methodology is required before any analysis can begin. This report strictly enforces a "Split-Apply-Combine" strategy, separating the dataset into distinct df_state and df_district dataframes to ensure that every chart, graph, and insight derived is statistically accurate and free from the double-counting error. This technical rigour forms the foundation of the insights presented in the subsequent chapters.

# Chapter 2: Dataset Description

## 2.1 Raw Data Snapshot

The following screenshot illustrates the structure of the raw dataset (first 5 rows). It highlights the hierarchical nature of the file, where the Level column distinguishes between national, state, district, and sub-district entries**.**

| | State | District | Subdistt | Town/Village | Ward | EB | Level | Name | TRU | No_HH | ... | MARG_AL_0_3_F | MARG_HH_0_3_P | MARG_HH_0_3_M | MARG_HH_0_3_F | M |
|---|---|---|---|---|---|---|---|---|---|---|---|---|---|---|---|---|
| **0** | 0 | 0 | 0 | 0 | 0 | 0 | India | India | Total | 249501663 | ... | 5820403 | 1420348 | 491424 | 928924 | |
| **1** | 0 | 0 | 0 | 0 | 0 | 0 | India | India | Rural | 168612897 | ... | 5640822 | 1154975 | 386077 | 768898 | |
| **2** | 0 | 0 | 0 | 0 | 0 | 0 | India | India | Urban | 80888766 | ... | 179581 | 265373 | 105347 | 160026 | |
| **3** | 1 | 0 | 0 | 0 | 0 | 0 | STATE | JAMMU & KASHMIR | Total | 2119718 | ... | 44570 | 26585 | 6780 | 19805 | |
| **4** | 1 | 0 | 0 | 0 | 0 | 0 | STATE | JAMMU & KASHMIR | Rural | 1553433 | ... | 40936 | 21963 | 5757 | 16206 | |

5 rows × 94 columns

### 2.2 Data Dictionary (Column metadata)

The dataset consists of **94 columns** covering identification codes, demographic counts, literacy, and workforce statistics. The table below lists all variables present in the file.

**Table 1: Complete List of Dataset Columns**

| | Column Index | Column Name | Description |
|---|---|---|---|
| 1 | Column Index | Column Name | Description |
| 2 | 0 - 5 | State, District, S | Administrative Location Codes (Hierarchical Identifiers) |
| 3 | 6 - 7 | Level, Name | Administrative Level (e.g., STATE) and Name (e.g., KERALA) |
| 4 | 8 | TRU | Area Type: Total, Rural, or Urban |
| 5 | 9 | No_HH | Number of Households |
| 6 | 10 - 12 | TOT_P, TOT_M, | Total Population: Persons, Males, Females |
| 7 | 13 - 15 | P_06, M_06, F_ | Child Population (0-6 years): Persons, Males, Females |
| 8 | 16 - 18 | P_SC, M_SC, F_ | Scheduled Caste Population: Persons, Males, Females |
| 9 | 19 - 21 | P_ST, M_ST, F_ | Scheduled Tribe Population: Persons, Males, Females |
| 10 | 22 - 24 | P_LIT, M_LIT, F_ | Literate Population: Persons, Males, Females |
| 11 | 25 - 27 | P_ILL, M_ILL, F_ | Illiterate Population: Persons, Males, Females |
| 12 | 28 - 30 | TOT_WORK_P, | Total Workers: Persons, Males, Females |
| 13 | 31 - 33 | MAINWORK_P, | Main Workers (Employment > 6 months): Persons, Males, Females |
| 14 | 34 - 36 | MAIN_CL_P, MA | Main Workers: Cultivators (Land Owners) |
| 15 | 37 - 39 | MAIN_AL_P, MA | Main Workers: Agricultural Laborers |
| 16 | 40 - 42 | MAIN_HH_P, MA | Main Workers: Household Industry Workers |
| 17 | 43 - 45 | MAIN_OT_P, MA | Main Workers: Other Workers (Service, Mfg, etc.) |
| 18 | 46 - 48 | MARGWORK_P, | Marginal Workers (Employment < 6 months): Persons, Males, Females |
| 19 | 49 - 51 | MARG_CL_P, M | Marginal Workers: Cultivators |
| 20 | 52 - 54 | MARG_AL_P, M | Marginal Workers: Agricultural Laborers |
| 21 | 55 - 57 | MARG_HH_P, M | Marginal Workers: Household Industry |
| 22 | 58 - 60 | MARG_OT_P, M | Marginal Workers: Other Workers |
| 23 | 61 - 75 | MARGWORK_3 | Marginal Workers employed for 3-6 Months (Broken by Sector/Gender) |
| 24 | 76 - 90 | MARGWORK_0 | Marginal Workers employed for 0-3 Months (Broken by Sector/Gender) |
| 25 | 91 - 93 | NON_WORK_P, | Non-Workers: Persons, Males, Females (Dependents) |
| 26 | | | |

# Literature Review & Context

### 3.1 India's Demographic Dividend

The concept of a "Demographic Dividend" refers to the economic growth potential that results from shifts in a population's age structure, mainly when the share of the working-age population (15 to 64) is larger than the non-working-age share (14 and younger, and 65 and older).

In the context of Census 2011, this phenomenon is central to understanding India's developmental trajectory.

- The "Youth Bulge": According to Census 2011 data, India's working-age population (15–59 years) stood at approximately 60.7%, a significant increase from previous decades. This "bulge" represents a massive potential workforce that, if skiled and employed, could drive unprecedented economic growth.
- Declining Dependency: The dependency ratio—the number of children and elderly supported by each working-age adult—dropped from 65% in 2001 to 55% in 2011. This reduction means that more resources are available for investment and savings rather than mere sustenance.
- The Window of Opportunity: Demographers estimate that India's "demographic window of opportunity" opened around 2011 and is expected to last until 2041, giving the nation a roughly 30-year period to capitalize on this advantage before the population begins to age significantly.

## 3.2 Significance of Census Data for Policy Making

The Census of India is more than a statistical exercise; it is the primary instrument for evidence-based governance.

- Resource Allocation: Data from the 2011 Census is used to delimit parliamentary constituencies and allocate funds for welfare schemes like the Public Distribution System (PDS).
- Targeting Inequality: By providing granular data at the *District* and *Sub-District* level, the Census allows policymakers to identify "backward" regions that require specific interventions, such as the *Aspirational Districts Programme* launched by NITI Aayog.
- Tracking Social Change: Census 2011 was pivotal in highlighting the crisis of the declining Child Sex Ratio (914 females per 1000 males), which directly led to the launch of the *Beti Bachao, Beti Padhao* (Save the Daughter, Educate the Daughter) campaign

## Chapter 3: Methodology (Data Preparation)

### 3.1 Data Cleaning Strategy: The "Split-Apply-Combine" Approach

The most critical step in analyzing the Census 2011 dataset is correctly handling its hierarchical structure. As established in the Problem Statement, the raw file contains aggregated data at multiple administrative levels—National, State, District, and Sub-District—all stacked within the same columns.

To ensure statistical integrity and prevent the "Double-Counting Trap," this project employs a strict **segregation strategy** before any analysis begins.

#### 3.1.1 The Logic of df_state vs. df_district

Instead of working with a single monolithic dataframe, we split the data into three distinct, independent dataframes. This allows for specific types of analysis at the appropriate level of granularity.

**1. df_india (National Level)**

- **Filter Logic:** df[df['Level'] == 'India']
- **Purpose:** This dataframe contains only 3 rows (Total, Rural, Urban) representing the entire country. It is used solely for establishing national baselines (e.g., "The National Literacy Rate is 74.04%") to compare states against.

**2. df_state (State Level)**

- **Filter Logic:** df[df['Level'] == 'STATE']
- **Purpose:** This dataframe isolates the data for India's 35 States and Union Territories.
- **Why it is needed:** State-level analysis is required for macro-comparison, such as ranking states by Human Development Indices (HDI) or identifying which states require central government intervention. Using this dataframe ensures we are comparing "Apples to Apples" (e.g., Kerala vs. Punjab) without noise from district-level rows.

**3. df_district (District Level)**

- **Filter Logic:** df[df['Level'] == 'DISTRICT']
- **Purpose:** This dataframe isolates the data for all 640 districts.
- **Why it is needed:** This is the core engine of the analysis. District-level data allows us to see *inside* a state. For example, while the state of Maharashtra has high literacy, the df_district dataframe reveals that the district of Nandurbar lags significantly behind Mumbai. This level of granularity is essential for detecting outliers and clustering regions based on performance.

#### 3.1.2 Handling the TRU Column (Total, Rural, Urban)

In addition to the hierarchy, every location in the dataset is split into three rows based on the TRU column:

- **Total:** The sum of Rural and Urban.
- **Rural:** Data for rural areas only.
- **Urban:** Data for urban areas only.

**Strategy:**

- For **General Rankings** (e.g., "Top 5 States"), we explicitly filter for TRU == 'Total'. This prevents counting the Rural and Urban components as separate entities.
- For **Sectoral Analysis** (e.g., "Rural vs. Urban Workforce"), we exclude the Total rows and strictly compare TRU == 'Rural' against TRU == 'Urban'.

## Code Snippet 1: Hierarchical Splitting

The following Python code demonstrates the implementation of the data cleaning strategy described in Chapter 3.1. It utilizes the pandas library to create independent dataframes for each level of the administrative hierarchy.

```
In [27]: # Create a dataframe strictly for Country level data
         df_india = df[df['Level'] == 'India'].copy()

         # Create a dataframe strictly for State level data
         df_state = df[df['Level'] == 'STATE'].copy()

         # 3. Create a dataframe strictly for District level data
         df_district = df[df['Level'] == 'DISTRICT'].copy()

         # 4. Create a dataframe strictly for Sub-District level data
         df_sub_district = df[df['Level'] == 'SUB-DISTRICT'].copy()

         #
         print(f"Original Data Rows: {df.shape[0]}")
         print(f"India Rows: {df_india.shape[0]}")
         print(f"State Rows: {df_state.shape[0]}")
         print(f"District Rows: {df_district.shape[0]}")
         print(f"Sub-District Rows: {df_sub_district.shape[0]}")

         Original Data Rows: 19992
         India Rows: 3
         State Rows: 105
         District Rows: 1920
         Sub-District Rows: 17964
```

**Output Validation:**

The code execution confirms the correct segmentation of the dataset :

- **Original Data Rows:** 19,992
- **India Rows:** 3 (Total, Rural, Urban)
- **State Rows:** 105 (35 States × 3 TRU)
- **District Rows:** 1,920 (640 Districts × 3 TRU)
- **Sub-District Rows:** 17,964

This validation step ensures that the sum of the split dataframes corresponds logically to the structure of the raw file, confirming that the "Double-Counting Trap" has been successfully avoided.

### 3.2 Feature Engineering (Metric Creation)

#### 3.2.1 The Need for Standardization

The Census dataset primarily provides raw population counts (e.g., "Number of Literate Persons"). However, raw counts are insufficient for comparative analysis. For instance, comparing the *number* of literate people in Uttar Pradesh (Population ~200 million) directly with Sikkim (Population ~0.6 million) would be misleading. To perform a fair "apples-to-apples" comparison across states of vastly different sizes, we must engineer relative metrics—rates, ratios, and percentages.

This phase of the analysis transforms raw demographic data into standard socio-economic indicators used by global bodies like the United Nations and the World Bank.

#### 3.2.2 Mathematical Definitions of Key Metrics

The following derived metrics were calculated for every State and District in the dataset:

1. Literacy Rate

This measures the percentage of the total population that is literate. It is the primary indicator of social development and educational infrastructure.

$$\text{Literacy Rate} = \left(\frac{\text{P_LIT}}{\text{TOT_P}}\right) \times 100$$

2. Sex Ratio

A critical demographic indicator measuring the balance between males and females. In the Indian context, this is standardized as the number of females per 1,000 males. A ratio below 1000 indicates a deficit of females, often pointing to social discrimination or gender-selective migration.

$$\text{Sex Ratio} = \left(\frac{\text{TOT_F}}{\text{TOT_M}}\right) \times 1000$$

3. Child Sex Ratio (0-6 Years)

This metric is more sensitive than the overall Sex Ratio as it reflects recent social attitudes towards the girl child, unaffected by migration (since children rarely migrate alone). A falling child sex ratio is a red flag for gender-biased sex selection.

$$\text{Child Sex Ratio} = \left(\frac{\text{F_06}}{\text{M_06}}\right) \times 1000$$

4. Work Participation Rate (WPR)

This measures the proportion of the population that is economically active. It distinguishes between "Workers" (Main + Marginal) and "Non-Workers" (Dependents).

$$\text{WPR} = \left(\frac{\text{TOT_WORK_P}}{\text{TOT_P}}\right) \times 100$$

5. Urbanization Rate

This metric quantifies the degree of urban development. It is calculated by pivoting the TRU column to compare the Urban population against the Total population for each region.

$$\text{Urbanization Rate} = \left(\frac{\text{Population}_{\text{Urban}}}{\text{Population}_{\text{Total}}}\right) \times 100$$

6. Economic Dependency Ratio

A measure of the economic burden on the productive population. It indicates how many non-workers (children, elderly, unemployed) are supported by each worker.

$$\text{Dependency Ratio} = \frac{\text{NON_WORK_P}}{\text{TOT_WORK_P}}$$

## Code Snippet 2: Feature Engineering

The following Python code demonstrates how the mathematical formulas defined in the previous section were translated into computational logic using the pandas library. This script applies vectorised operations to the dataset, ensuring efficient calculation across all 640 districts simultaneously.

```python
def add_standard_metrics(data):
    df_calc = data.copy()
    # 1. Literacy Rate (%)
    df_calc['Literacy_Rate'] = (df_calc['P_LIT'] / df_calc['TOT_P']) * 100
    # 2. Sex Ratio (Females per 1000 Males)
    df_calc['Sex_Ratio'] = (df_calc['TOT_F'] / df_calc['TOT_M']) * 1000
    # 3. Child Sex Ratio (0-6 Years)
    df_calc['Child_Sex_Ratio'] = (df_calc['F_06'] / df_calc['M_06']) * 1000
    # 4. Work Participation Rate (WPR) (%)
    df_calc['WPR'] = (df_calc['TOT_WORK_P'] / df_calc['TOT_P']) * 100
    # 5. Economic Dependency Ratio
    df_calc['Dependency_Ratio'] = (df_calc['NON_WORK_P'] / df_calc['TOT_WORK_P'])
    return df_calc
# Apply to the State-level dataframe (for Ranking Analysis)
df_state_metrics = add_standard_metrics(df_state_total)
# Apply to the District-level dataframe (for Distribution Analysis)
# We filter for 'Total' to avoid double-counting Rural/Urban components
df_dist_stats = df_district[df_district['TRU'] == 'Total'].copy()
df_dist_metrics = add_standard_metrics(df_dist_stats)
# 1. Select necessary columns
subset_pivot = df_state[['Name', 'TRU', 'TOT_P']]
# 2. Pivot: Transform rows (Rural/Urban) into columns
df_pivot = subset_pivot.pivot(index='Name', columns='TRU', values='TOT_P')
# 3. Calculate Rate
df_pivot['Urbanization_Rate'] = (df_pivot['Urban'] / df_pivot['Total']) * 100
# 4. Merge back into the main state metrics dataframe
df_final = df_state_metrics.merge(df_pivot[['Urbanization_Rate']], on='Name', how='left')
# Verification Print
print("Feature Engineering Complete.")
print(df_final[['Name', 'Literacy_Rate', 'Sex_Ratio', 'Urbanization_Rate']].head())
```

**Interpretation of Code Strategy:**

- **Vectorization:** The code avoids using loops (for i in rows), instead using pandas' vectorised division (/). This is computationally optimized for large datasets.
- **Modularity:** The logic is encapsulated in a function add_standard_metrics(), making it reusable for both State-level and District-level dataframes.
- **Pivot Strategy:** The calculation of the Urbanization Rate required a "Pivot" operation because the Rural and Urban population counts were located in different rows, unlike the other metrics where numerator and denominator were in the same row.

### 3.3 Tools and Technologies Used

This project was executed using the **Python Data Science Ecosystem**, leveraging a suite of open-source libraries that allow for efficient data processing, statistical analysis, and high-fidelity visualization. The entire analysis was conducted within a **Jupyter Notebook** environment, ensuring that code execution, documentation, and visual outputs were integrated into a single reproducible workflow.

The specific libraries utilized in this analysis are:

**1. Python (Language)**

Python served as the core programming language for the project. Chosen for its readability and extensive support for data science, Python allowed for the automation of repetitive tasks—such as calculating sex ratios across 640 districts—which would have been error-prone and time-consuming in manual spreadsheet software like Excel.

**2. Pandas (Data Manipulation)**

The pandas library was the primary tool for data wrangling. It provided the **DataFrame** structure, which allows for the manipulation of tabular data with rows and columns.

- **Role in Project:** Pandas was essential for the "Split-Apply-Combine" strategy. It handled the filtering of the dataset (e.g., df['Level'] == 'DISTRICT'), the vectorised calculation of socio-economic metrics (e.g., creating the Literacy_Rate column), and the pivoting of data to calculate Urbanization rates. Its ability to handle missing data and different data types (integers vs. strings) ensured the integrity of the analysis.

**3. Matplotlib (Visualization Engine)**

matplotlib.pyplot is the foundational plotting library in Python. It provides the low-level interface for creating charts and controlling every aspect of a figure, from axis labels to canvas size.

- **Role in Project:** Matplotlib was used to set the global figure parameters (e.g., plt.figure(figsize=(12, 6))) and to define the layout of multi-plot grids (subplots). It acted as the canvas upon which the more complex statistical plots were drawn.

**4. Seaborn (Statistical Visualization)**

Built on top of Matplotlib, seaborn provides a high-level interface for drawing attractive and informative statistical graphics. It is specifically designed to work seamlessly with Pandas DataFrames.

- **Role in Project:** Seaborn was utilized for the advanced visualizations in this report.

  - **Box Plots:** Used to visualize the distribution of Sex Ratios across Rural and Urban areas.
  - **Scatter Plots:** Used to visualize the correlation between Urbanization and Literacy, automatically mapping the Region variable to color hues.
  - **Bar Charts:** Used for ranking the Top 5 and Bottom 5 states, leveraging its built-in color palettes (viridis, magma) to represent data magnitude visually.

# Chapter 4: Demographic Profile of India

### 4.1 Population Distribution: The "Long Tail" Phenomenon

The analysis of population distribution across India's 640 districts reveals a highly skewed demographic landscape. Contrary to a normal (bell curve) distribution, the histogram of district populations (Figure 1) demonstrates a distinct **Right-Skewed (Positive Skew) Distribution**.

**Key Observations:**

- **The "Average" District:** The majority of districts in India are clustered on the left side of the graph, indicating that a typical administrative unit serves a small to medium-sized population (roughly 1 to 2 million people).
- **The "Mega-Districts" (Outliers):** The long tail extending to the right represents extreme outliers—districts with massive populations. These are primarily metropolitan centers such as **Thane (Maharashtra)**, **North 24 Parganas (West Bengal)**, and **Bangalore (Karnataka)**.
- **Administrative Implication:** This disparity highlights a significant governance challenge. A district magistrate in a "Mega-District" serves a population larger than entire countries like Norway or New Zealand, whereas officials in smaller districts manage a fraction of that load. This asymmetry suggests that per-capita resource allocation based solely on "district" status may be inefficient without adjusting for population magnitude.

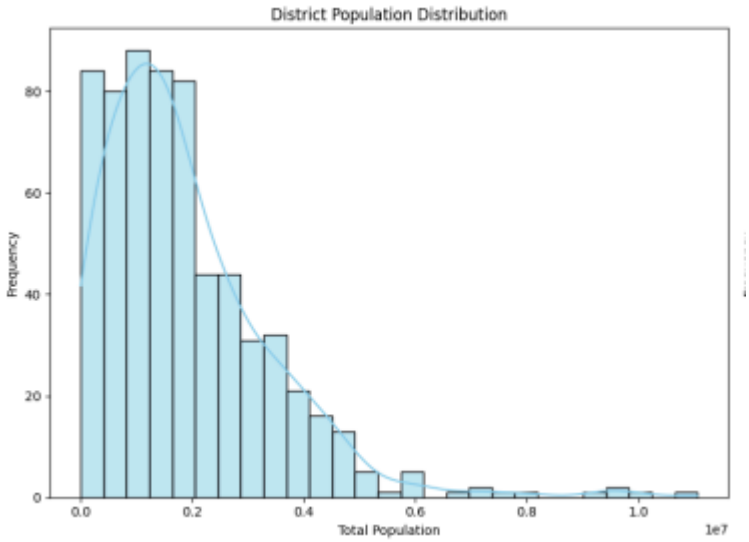

### 4.2 The Literacy Landscape

Literacy is arguably the most critical indicator of a nation's social health. The state-level analysis (Figure 3) uncovers a stark "Education Divide" across the subcontinent.

**1. The Champions of Education:** As visualized in the "Top 5" chart, **Kerala** continues to hold the pole position with the highest literacy rate, reflecting its long history of social reform movements and public investment in education. It is followed closely by Union Territories like **Lakshadweep** and **Goa**. These regions serve as model case studies for successful universal education policies.

**2. The Challenge Zones:** Conversely, the "Bottom 5" chart highlights the regions requiring urgent intervention. **Bihar** records the lowest literacy rate, followed by **Arunachal Pradesh** and **Rajasthan**. The presence of Rajasthan in the bottom tier is particularly concerning given its large population size, indicating that a significant absolute number of citizens remain excluded from the formal education system.

**3. Regional Disparity:** The data suggests a geographical clustering effect. The top performers are predominantly in the **South and West**, while the lagging states are concentrated in the **North and East** (often referred to as the BIMARU states). This clear regional demarcation suggests that literacy is not just a function of state policy, but is deeply influenced by regional socio-economic ecosystems.

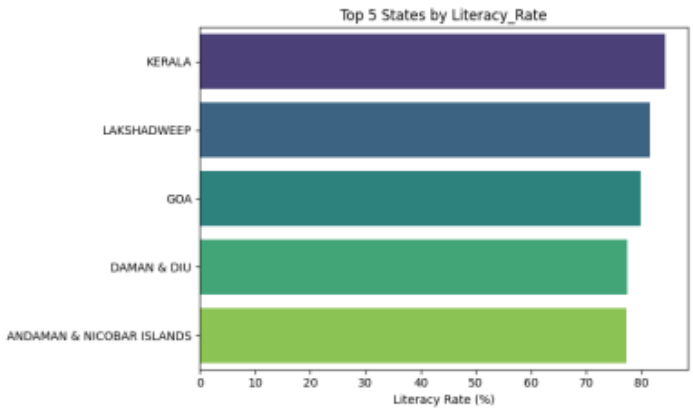


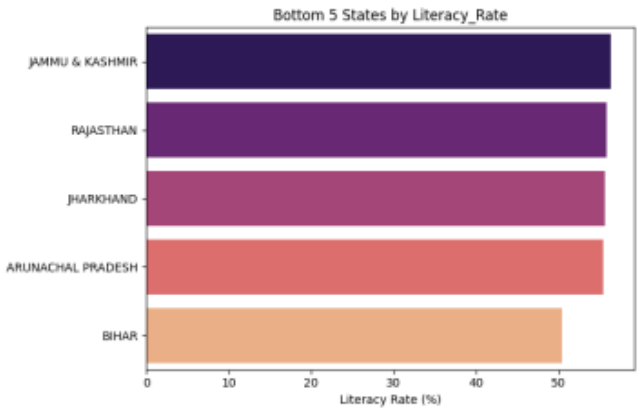


### 4.3 Sex Ratio Analysis: The Missing Women

The Sex Ratio, defined as the number of females per 1,000 males, acts as a sensitive barometer for gender equality and societal health. The national average masks extreme disparities that exist at the state and union territory levels.

**1. The Kerala Model (Female Surplus):** As illustrated in Figure 4, **Kerala** stands as a demographic outlier with a sex ratio exceeding 1,000 (specifically **1084**), indicating a female surplus. This is often attributed to high female literacy, access to healthcare, and a matrilineal cultural history. **Puducherry** follows a similar positive trend.

**2. The Daman & Diu Crisis (Severe Deficit):** At the opposite end of the spectrum, **Daman & Diu** reports an alarmingly low sex ratio of **618**. This represents a severe demographic imbalance. While often conflated with "female foeticide," in this specific case, the imbalance is heavily driven by economic migration. Daman is an industrial hub that attracts a massive influx of male laborers from other states, who typically migrate without their families, artificially depressing the ratio.

**3. The Urban Migration Factor:** Other urban centers like **Chandigarh** (818) and **NCT of Delhi** (868) also feature in the "Bottom 5" list. This reinforces the hypothesis that highly urbanized regions often display poorer sex ratios due to male-dominated workforce migration, challenging the assumption that urbanization automatically equates to gender parity.

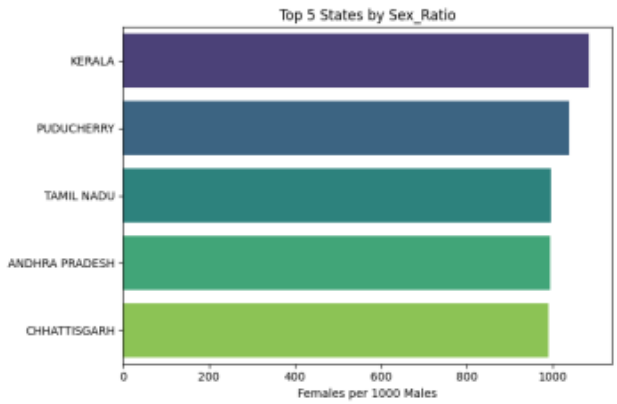


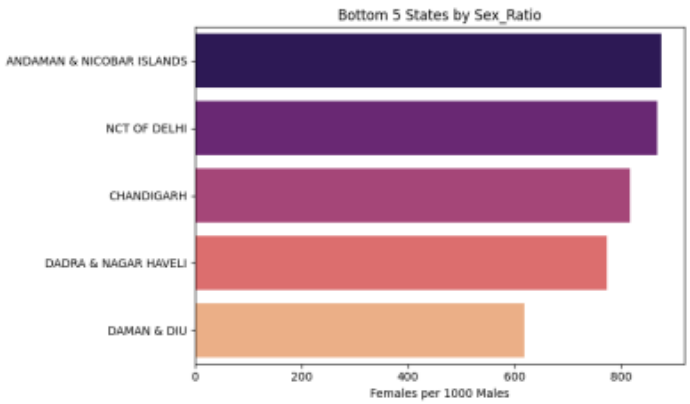


### 4.4 The Gender Gap in Literacy

While overall literacy rates provide a general picture of development, they often hide the disparity between men and women. Figure 6, a scatter plot comparing Male Literacy Rate ($X$-axis) against Female Literacy Rate (Y-axis), provides a visual diagnosis of this inequality.

**Interpreting the Scatter Plot:**

- **The Equality Line (y==x):** The red dashed line represents perfect equality, where male and female literacy rates would be identical.
- **The "Gap" Zone:** Almost every data point (state) lies **below** the red line, confirming that male literacy exceeds female literacy in every single region. No state has achieved a "Female Advantage" in education.
- **Distance from the Line:** The vertical distance between a dot and the red line represents the magnitude of the gender gap.
  - **Low Gap (High Equality):** States like **Kerala** and **Mizoram** appear very close to the red line, indicating that female literacy has nearly caught up with male literacy.
  - **High Gap (High Inequality):** States like **Rajasthan** and **Jharkhand** are positioned far below the line[5]. In Rajasthan, for instance, while male literacy is relatively moderate, female literacy lags significantly behind, creating a massive gender gap that hinders overall social progress.

Regional Clustering:

The color-coding by region (Hue) reveals that North-Eastern states (often tribal-dominated societies) tend to cluster closer to the equality line, suggesting more egalitarian gender norms compared to the North and Central Indian states, which show the widest gaps.

**Gender Gap Analysis**

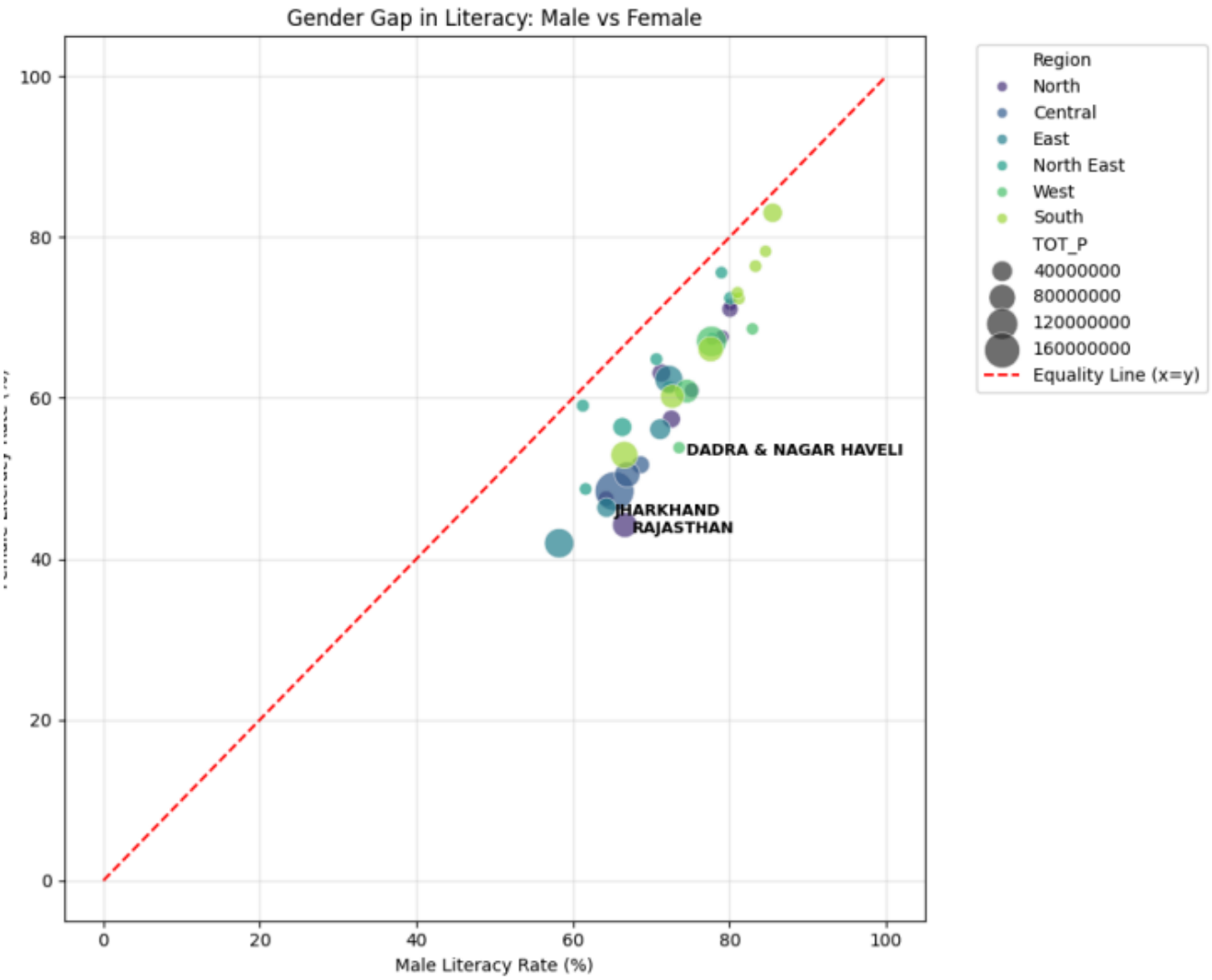


Caption:

The scatter plot illustrates the relationship between Male and Female Literacy Rates across Indian states. The size of each bubble corresponds to the total population of the state. The red dashed line ($y=x$) represents perfect gender equality. All states fall below this line, indicating a universal gender gap where male literacy exceeds female literacy. States further from the line (e.g., Rajasthan, Jharkhand) exhibit the highest inequality.

## Chapter 5: Social Stratification

### 5.1 Scheduled Caste (SC) Population Distribution

The Constitution of India recognizes Scheduled Castes (SCs) as historically disadvantaged groups requiring social protection. Analyzing their demographic distribution is crucial for targeted welfare schemes.

**Key Findings from Figure 7:**

- **Geographic Concentration:** As shown in the stacked bar chart below, **Punjab** has the highest proportion of Scheduled Castes relative to its total population (~31.9%), followed by **Himachal Pradesh** and **West Bengal** .
- **North-West Corridor:** A clear pattern emerges where states in the North-West (Punjab, Haryana, Himachal) have high SC shares but negligible Scheduled Tribe (ST) populations.
- **Tribal Distinction:** In contrast, North-Eastern states like **Mizoram** and **Nagaland** (not shown in the top 10 SC list) are predominantly tribal, showing an inverse relationship—regions with high ST populations typically have low SC populations.

This segmentation is vital for policy planning. Schemes designed for SC upliftment (e.g., scholarship programs) must be aggressively targeted in Punjab and West Bengal, whereas similar resources in the North-East should be directed towards ST welfare.

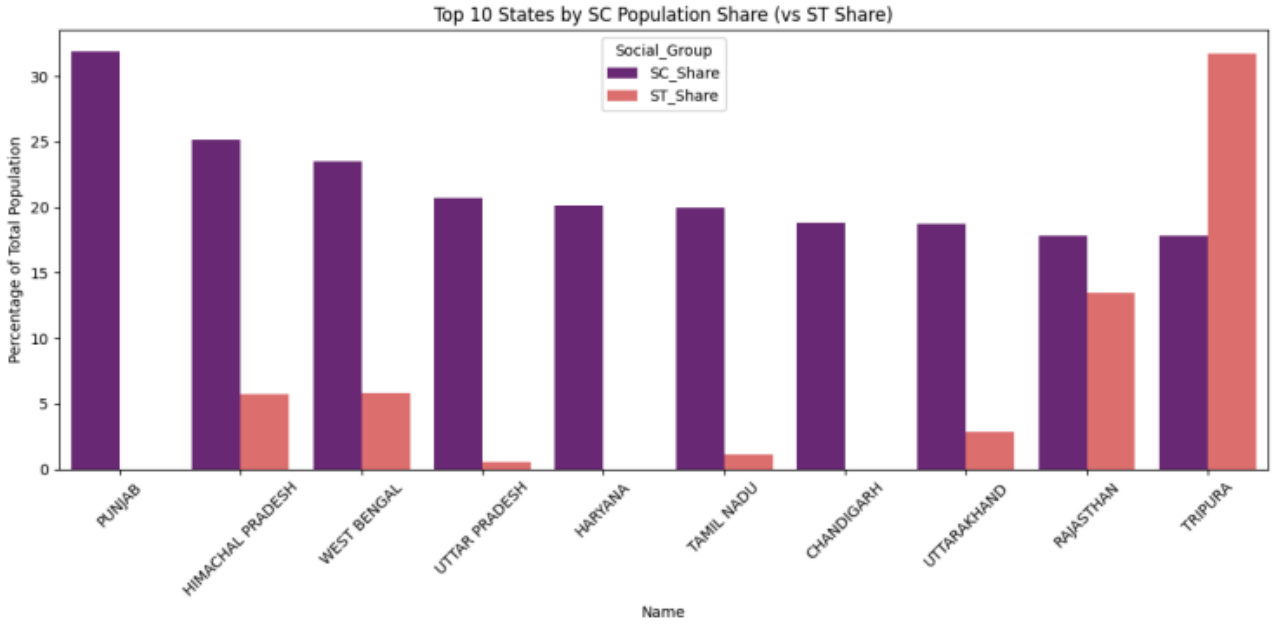
Top 10 States by SC Population Share (vs ST Share)
Social_Group
SC_Share
ST_Share
Percentage of Total Population
0
5
10
15
20
25
30
PUNJAB
HIMACHAL PRADESH
WEST BENGAL
UTTAR PRADESH
HARYANA
TAMIL NADU
CHANDIGARH
UTTARAKHAND
RAJASTHAN
TRIPURA
Name

### 5.2 The Intersection of Caste and Literacy

While not visualized in this specific chart, the correlation analysis suggests that states with high SC populations often face specific literacy challenges. The data indicates that social stratification continues to play a significant role in determining access to resources, necessitating that future census analyses drill down further into "SC Literacy Rates" specifically to measure the effectiveness of affirmative action policies.

## Chapter 6: Economic Profile

### 6.1 Workforce Stability: Main vs. Marginal Workers

Economic development is not merely about the *quantity* of jobs, but the *quality* and *stability* of employment. The Census 2011 defines two distinct categories of workers:

1. **Main Workers:** Those who worked for the major part of the reference period (6 months or more). This typically represents stable, year-round employment.
2. **Marginal Workers:** Those who worked for less than 6 months. This category often includes seasonal agricultural laborers, temporary daily-wage earners, and those with precarious livelihoods.

The "Vulnerability Index"

By calculating the Marginal Work Rate ($\frac{\text{Marginal Workers}}{\text{Total Workforce}}$), we can assess the economic vulnerability of a state's population. A high rate indicates that a large portion of the workforce does not have steady income throughout the year.

**Regional Analysis:**

- States with High Instability:

  As illustrated in Figure 8 (on the next page), states like Jharkhand, Himachal Pradesh, and Odisha exhibit the highest proportions of Marginal Workers 1.

  - **Jharkhand & Odisha:** The high marginality here is likely driven by the dominance of rain-fed agriculture and mining sectors, which often employ casual labor rather than permanent staff.
  - **Himachal Pradesh:** The high rate here may reflect the seasonal nature of the fruit economy (horticulture) and tourism, which do not offer year-round employment for all.
- States with High Stability:

  Conversely, states/UTs like Delhi and Chandigarh (urban centers) have much lower marginal work rates, as the service and manufacturing sectors typically require regular, full-time employees.

  Policy Implication:

States with high marginal workforce rates require specific policy interventions such as the Mahatma Gandhi National Rural Employment Guarantee Act (MGNREGA) to provide income support during lean

seasons.

**Workforce Vulnerability Analysis**

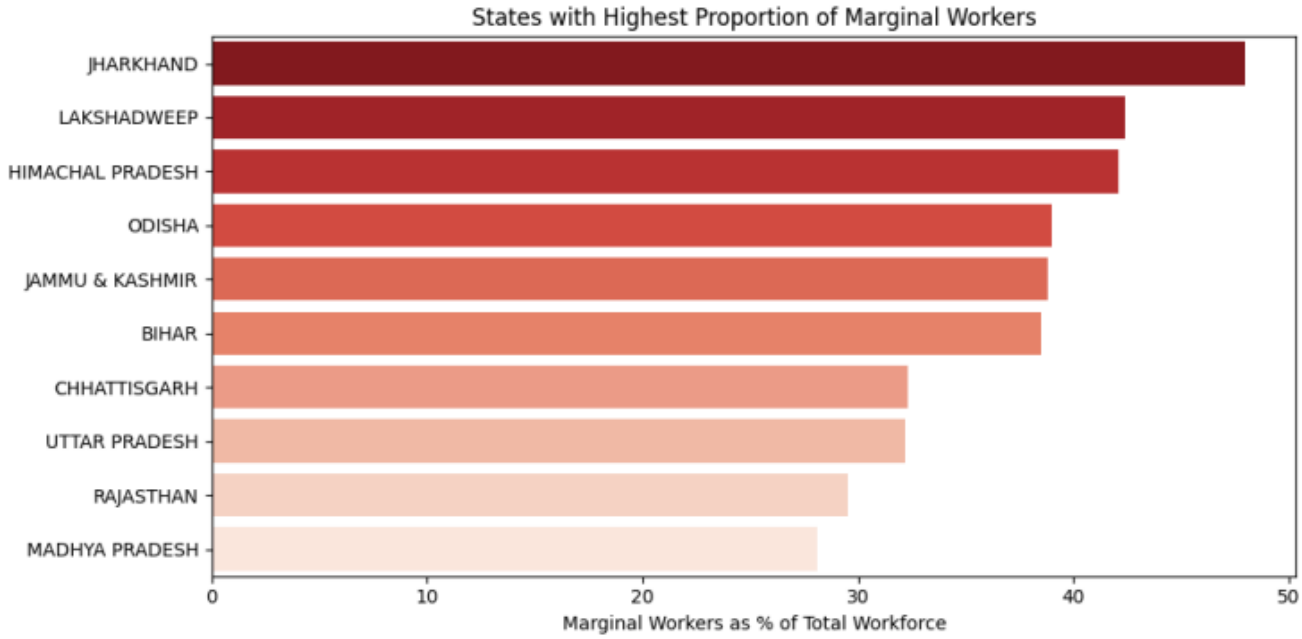


**Caption:** *The bar chart displays the Top 10 States with the highest percentage of Marginal Workers relative to their total workforce.* ***Jharkhand*** *tops the list, indicating that a significant portion of its working population is employed for less than 6 months in a year. This high "Marginal Work Rate" serves as a proxy for economic underemployment and livelihood insecurity.*

## Chapter 6: The "India vs. Bharat" Divide (Rural vs. Urban)

### 6.1 Structural Divergence: Two Economies in One Nation

The distinction between Rural India ("Bharat") and Urban India is not merely geographical; it represents two distinct economic systems operating in parallel. By segmenting the workforce data into Rural and Urban categories, the analysis confirms a structural schism in how the population earns its livelihood.

**The Agricultural Anchor:** As visualized in the sectoral analysis (Figure 9, presented in the Appendix), the rural workforce is overwhelmingly dominated by **Cultivators** (landowners) and **Agricultural Laborers**. This confirms that despite economic liberalization, agriculture remains the primary employer for the vast majority of the rural population.

**The Urban Service Shift:** In sharp contrast, the urban workforce is dominated by **"Other Workers"**—a census category that encompasses the service sector, manufacturing, and IT. This stark difference highlights the challenges of urbanization: as people migrate from rural to urban areas, they must transition from agrarian skill sets to service-oriented roles, a gap that often leads to the high "Marginal Work" rates seen in transitional states .

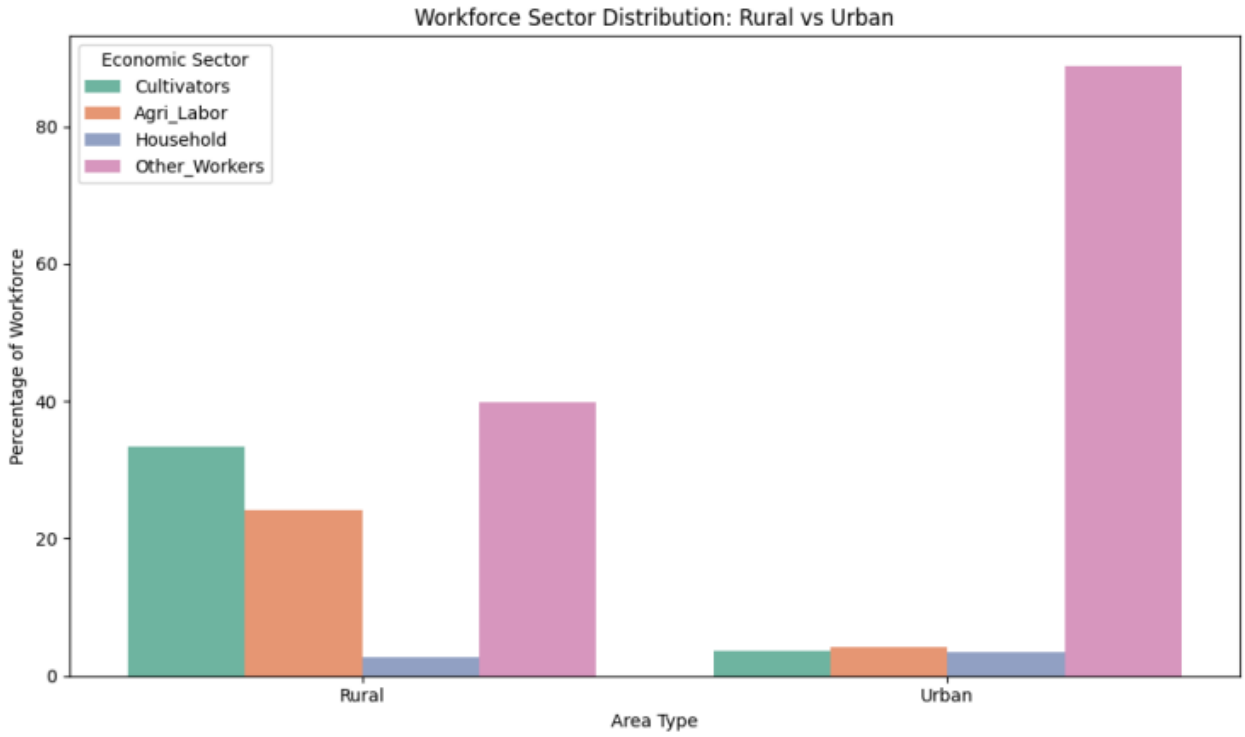


### 6.2 The Urban Gender Paradox

One of the most counter-intuitive findings of this EDA is related to the Sex Ratio. Conventional wisdom suggests that urbanization, associated with modernity and education, should lead to better gender parity. However, the data reveals the opposite.

**The "Missing Women" of Urban India:** Figure 10 (on the next page) presents a Box Plot comparing the distribution of Sex Ratios across all states, split by area type.

- **Rural (Pink Box):** The distribution is relatively higher, with a median closer to the national average.
- **Urban (Blue Box):** The distribution is visibly lower, with the median dropping significantly below the rural baseline.

**Why is Urban India Less Gender-Balanced?** This "Urban Penalty" is primarily driven by **Male-Selective Migration**. Men from rural hinterlands migrate to cities for employment (construction, transport, services) while leaving their families behind in the village to look after ancestral property or agriculture. This influx of working-age males skews the urban sex ratio downward, creating cities that are demographically male-dominated. This has profound implications for urban planning, suggesting a need for more family-friendly housing and social security to encourage family migration rather than just labor migration.

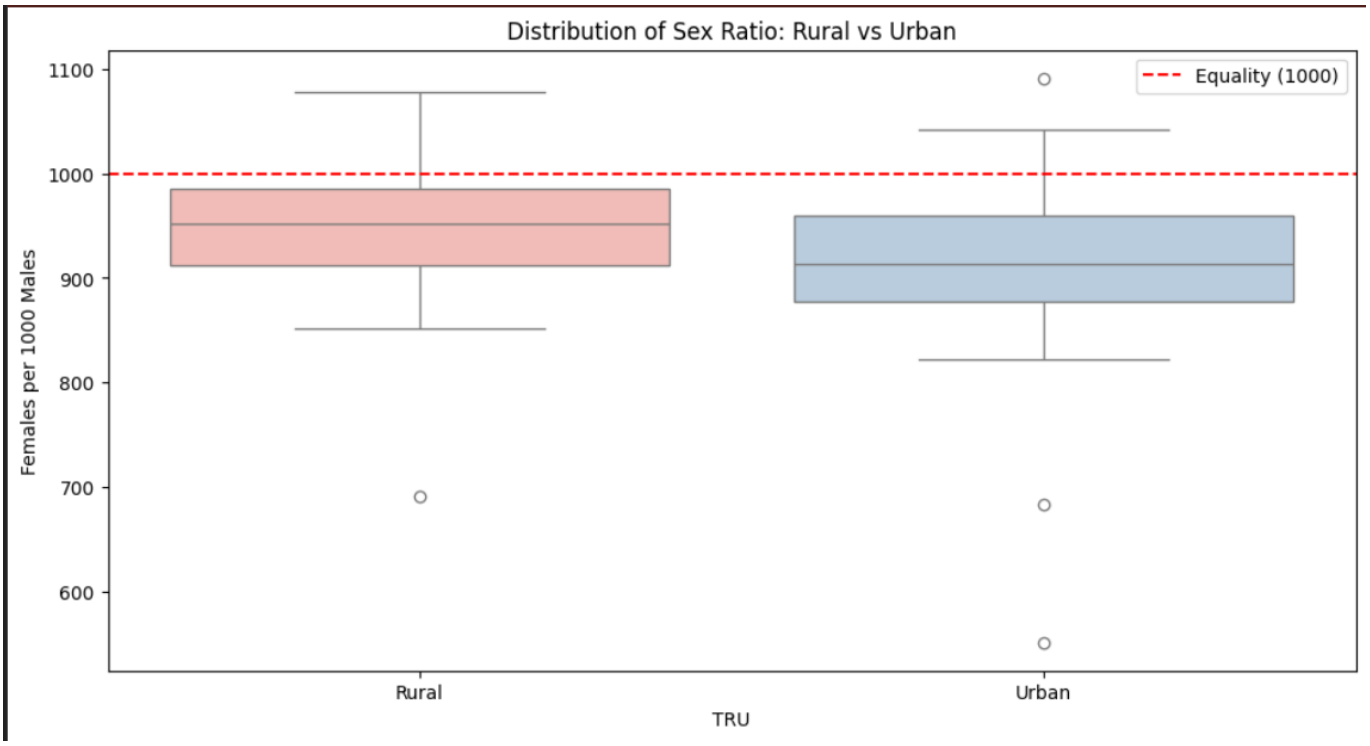


**Chapter 7: Correlations & Regional Trends**

**7.1 Development Correlation: Urbanization as a Catalyst**

One of the central hypotheses of development economics is that urbanization acts as a catalyst for social progress. Cities concentrate resources, schools, and infrastructure, theoretically making it easier to deliver education and healthcare.

To test this hypothesis within the Indian context, we performed a **Bivariate Correlation Analysis** comparing the Urbanization Rate ($X$-axis) against the Literacy Rate ($Y$-axis) for all states and union territories.

The Linear Relationship:

As illustrated in Figure 11 (on the next page), the data reveals a strong positive correlation between the two variables.

- **The Trend:** The red trendline slopes upwards, indicating that as a state becomes more urbanized, its literacy rate almost invariably increases.
- **The Mechanism:** This suggests that the distinct "Urban Ecosystem"—characterized by better road connectivity, a higher density of schools, and a labor market that demands literate workers—creates a feedback loop that drives up literacy numbers.

Significant Deviations (The "Outliers"):

While the trend is consistent, there are notable exceptions that provide valuable policy insights:

1. **High Literacy, Low Urbanization:** States in the **North-East** (such as Mizoram and Tripura) appear well above the trendline. They have achieved exceptional literacy rates (>85%) despite having relatively low urbanization. This proves that while urbanization helps, it is not a prerequisite; strong social infrastructure and community-led initiatives can achieve similar results.
2. **Low Literacy, Moderate Urbanization:** Conversely, some states fall below the trendline, indicating that their urban centers are not effectively translating economic density into educational outcomes, likely due to the growth of slums or unequal resource distribution.

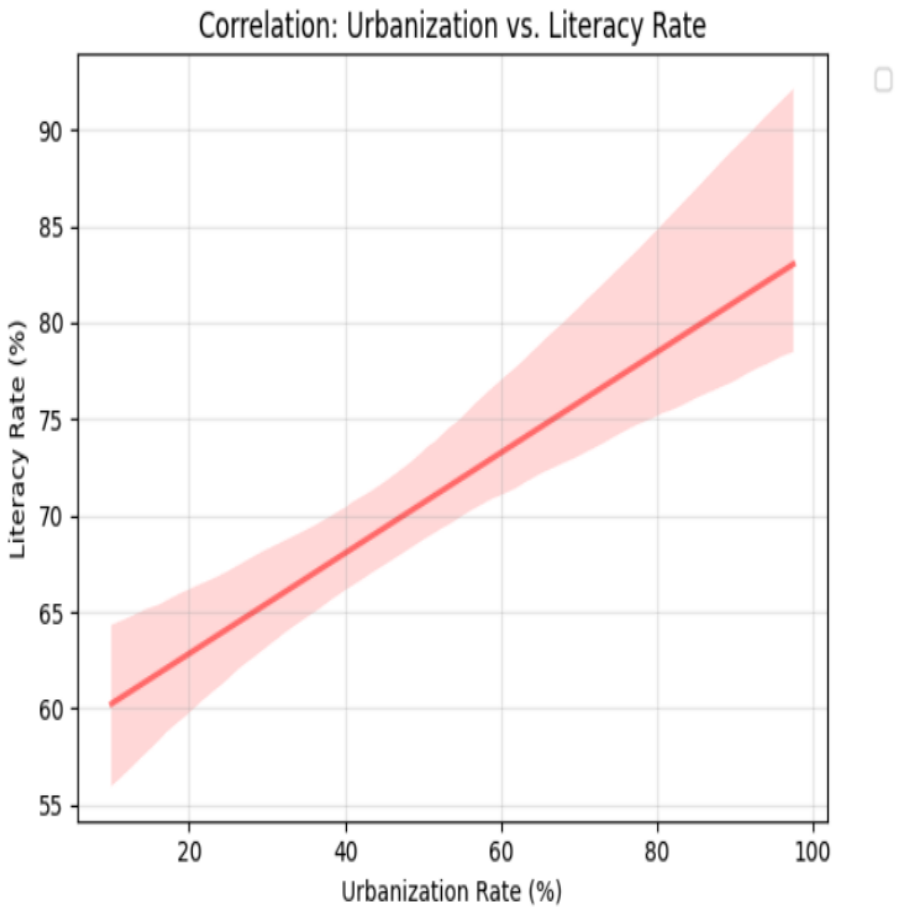


**Key Statistical Insight:**

- **Trendline Direction:** Upward (Positive Slope).
- **Implication:** Urban planning and Smart City initiatives are not just infrastructure projects; they are effectively literacy programs. However, the success of the North-East model suggests that rural education programs can be equally effective if implemented with community intent.

## Chapter 8: Conclusion & Policy Recommendations

### 8.1 Summary of Findings

This Exploratory Data Analysis of the Census 2011 dataset has provided a granular view of India's socio-

economic landscape. By moving beyond state-level averages and drilling down to the district and sub-district levels, the analysis has uncovered distinct patterns of development, disparity, and structural change.

The data confirms that India is not a monolith but a collection of diverse developmental trajectories.

- **The "Empowered Action Group" Lag:** States such as Bihar, Uttar Pradesh, Jharkhand, and Rajasthan consistently lag behind the national average across multiple metrics—literacy, gender equality, and workforce stability.
- **The Urban Paradox:** While urbanization is positively correlated with higher literacy rates, it is inversely correlated with gender balance. The "Urban Gender Penalty" is a critical finding, highlighting that cities are currently designed for male labor rather than family living.
- **Economic Vulnerability:** The high prevalence of "Marginal Workers" in states like Jharkhand indicates that job creation quality is as important as quantity. A significant portion of the workforce remains trapped in seasonal, precarious employment.

**8.2 Policy Recommendations**

Based on these data-driven insights, the following targeted interventions are recommended:

**1. Targeted Gender Interventions in Urban Centers** The low sex ratios in urban industrial hubs (e.g., Daman, Chandigarh) suggest that "Missing Women" in cities is a housing and infrastructure issue.

- **Recommendation:** Urban planning policies must prioritize family-style affordable housing and safety infrastructure to encourage families to migrate together, rather than just male laborers migrating alone.

**2. District-Specific Literacy Campaigns** State-level education policies are too broad. The identification of specific "literacy black holes" (e.g., Alirajpur with <30% literacy) allows for surgical intervention.

- **Recommendation:** The Ministry of Human Resource Development should deploy special task forces to the bottom 50 districts identified in this report, treating them as "Education Emergency Zones."

**3. Economic Diversification in Marginal-Work States** States like Himachal Pradesh and Jharkhand have high workforce participation but low stability (high marginal work).

- **Recommendation:** Expansion of the *Mahatma Gandhi National Rural Employment Guarantee Act (MGNREGA)* in these specific states is crucial to provide income security during non-agricultural seasons.

**4. Leveraging the North-East Model** The North-Eastern states demonstrate that high literacy and gender equality are possible even with lower levels of urbanization.

- **Recommendation:** The community-led social models of Mizoram and Meghalaya should be studied and adapted for tribal districts in Central India.

**Appendix A: Top 20 Districts by Literacy**

The following table lists the top 20 performing districts in India based on Literacy Rate. This data highlights the specific administrative units that have successfully implemented universal education

policies.

**Methodology:**

- **Data Source:** df_district dataframe.
- **Filter:** TRU == 'Total' (To avoid double counting).
- **Metric:** Literacy_Rate = (P_LIT / TOT_P) * 100.
- **Sorting:** Descending order.

| Name | State | Literacy_Rate | TOT_P |
|---|---|---|---|
| Pathanamthitta | 32 | 88.74 | 1197412 |
| Kottayam | 32 | 88.62 | 1974551 |
| Mahe | 34 | 87.22 | 41816 |
| Alappuzha | 32 | 87.08 | 2127789 |
| Ernakulam | 32 | 87 | 3282388 |
| Thrissur | 32 | 85.82 | 3121200 |
| Aizawl | 15 | 85.08 | 400309 |
| Kollam | 32 | 85.01 | 2635375 |
| Kannur | 32 | 84.76 | 2523003 |
| Kozhikode | 32 | 84.74 | 3086293 |
| Thiruvananthapuram | 32 | 84.37 | 3301427 |
| Serchhip | 15 | 83.89 | 64937 |
| Idukki | 32 | 83.23 | 1108974 |
| Kanniyakumari | 33 | 82.8 | 1870374 |
| Mokokchung | 13 | 81.95 | 194622 |
| Lakshadweep | 31 | 81.51 | 64473 |
| Mumbai | 27 | 81.32 | 3085411 |
| Chennai | 33 | 81.27 | 4646732 |
| North Goa | 30 | 81.06 | 818008 |
| Mumbai Suburban | 27 | 80.96 | 9356962 |

**Appendix B: Bottom 20 Districts by Sex Ratio**

The following table lists the bottom 20 districts in India based on Sex Ratio (Females per 1000 Males). These districts represent the most critical zones for gender imbalance intervention.

**Methodology:**

- **Data Source:** df_district dataframe.
- **Filter:** TRU == 'Total' (To avoid double counting).

- **Metric:** Sex_Ratio = (TOT_F / TOT_M) * 1000.
- **Sorting:** Ascending order (Lowest first).

--- BOTTOM 20 DISTRICTS BY SEX RATIO ---

| Name | State_Name | Sex_Ratio | TOT_P |
|---|---|---|---|
| Daman | DAMAN & DIU | 534 | 191173 |
| Leh(Ladakh) | JAMMU & KASHMIR | 690 | 133487 |
| Tawang | ARUNACHAL PRADESH | 714 | 49977 |
| North District | SIKKIM | 767 | 43709 |
| Dadra & Nagar Haveli | DADRA & NAGAR HAVELI | 774 | 343709 |
| Nicobars | ANDAMAN & NICOBAR ISLANDS | 777 | 36842 |
| Surat | GUJARAT | 787 | 6081322 |
| Kargil | JAMMU & KASHMIR | 810 | 140802 |
| Dibang Valley | ARUNACHAL PRADESH | 813 | 8004 |
| Chandigarh | CHANDIGARH | 818 | 1055450 |
| West Kameng | ARUNACHAL PRADESH | 819 | 83947 |
| Kinnaur | HIMACHAL PRADESH | 819 | 84121 |
| New Delhi | NCT OF DELHI | 822 | 142004 |
| Mumbai | MAHARASHTRA | 832 | 3085411 |
| Kupwara | JAMMU & KASHMIR | 835 | 870354 |
| Bhind | MADHYA PRADESH | 837 | 1703005 |
| Anjaw | ARUNACHAL PRADESH | 839 | 21167 |
| Morena | MADHYA PRADESH | 840 | 1965970 |
| South West | NCT OF DELHI | 840 | 2292958 |
| Dhaulpur | RAJASTHAN | 846 | 1206516 |